Data analytics with tableau

Project name:- *Heritage Treasures: An In-Depth Analysis of UNESCO World Heritage Sites in Tableau*

Project id:- *LTVIP2026TMIDS83621*

Date:- 20-02-2026

Data visual:-

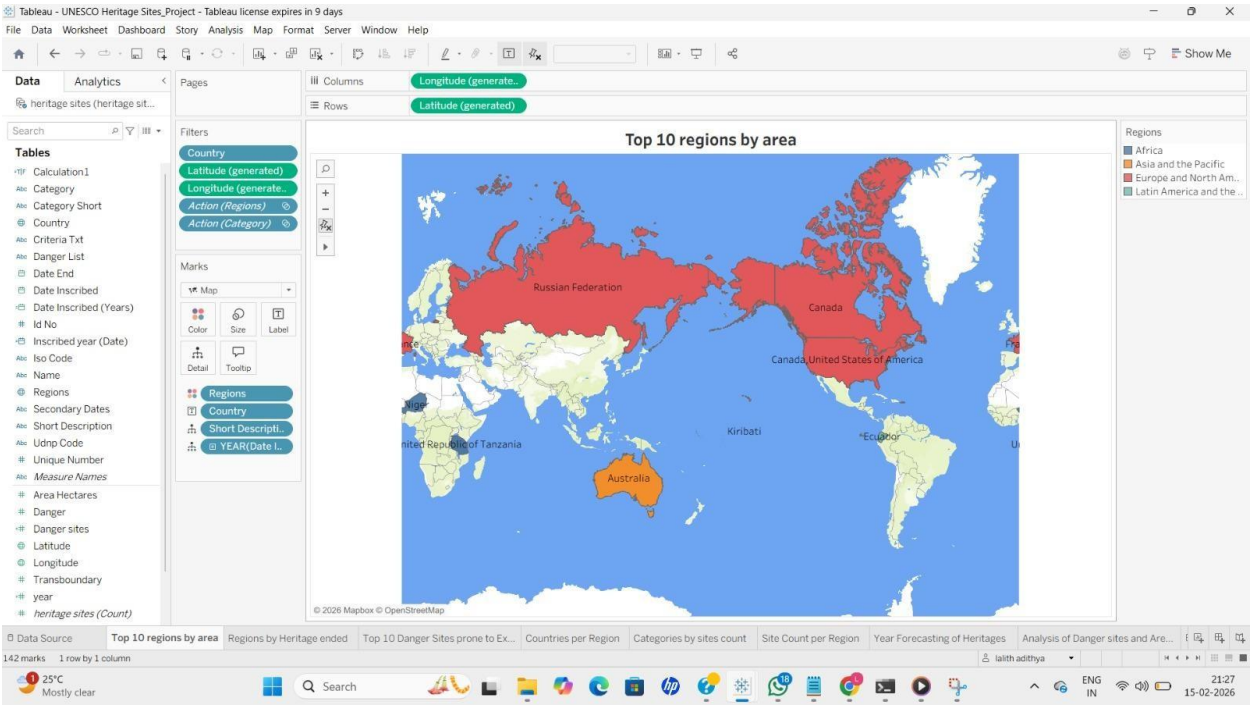

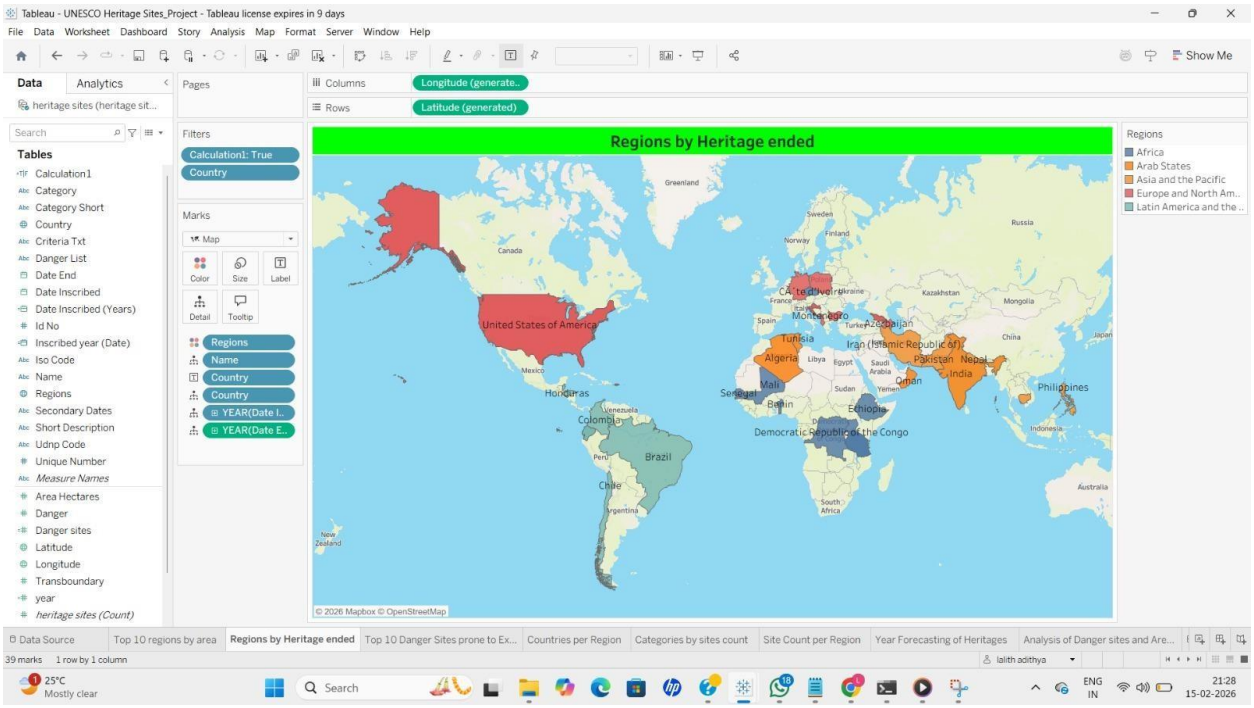
Tableau - UNESCO Heritage Sites_Project - Tableau license expires in 9 days
File Data Worksheet Dashboard Story Analysis Map Format Server Window Help
Show Me
Data
Analytics
heritage sites (heritage sit...
Tables
Calculation1
Category
Category Short
Country
Criteria Txt
Danger List
Date End
Date Inscribed
Date Inscribed (Years)
Id No
Inscribed year (Date)
Iso Code
Name
Regions
Secondary Dates
Short Description
Udnp Code
Unique Number
Measure Names
Area Hectares
Danger
Danger sites
Latitude
Longitude
Transboundary
year
heritage sites (Count)
Pages
Filters
Calculation1: True
Country
Marks
Map
Color
Size
Label
Detail
Tooltip
Regions
Name
Country
Country
YEAR(Date I..
YEAR(Date E..
Columns
Longitude (generate..
Rows
Latitude (generated)
Regions by Heritage ended
Regions
Africa
Arab States
Asia and the Pacific
Europe and North Am..
Latin America and the ..
© 2026 Mapbox © OpenStreetMap
Data Source
Top 10 regions by area
Regions by Heritage ended
Top 10 Danger Sites prone to Ex...
Countries per Region
Categories by sites count
Site Count per Region
Year Forecasting of Heritages
Analysis of Danger sites and Are...
39 marks
1 row by 1 column
lalith adithya
25°C
Mostly clear
Search
ENG
IN
21:28
15-02-2026

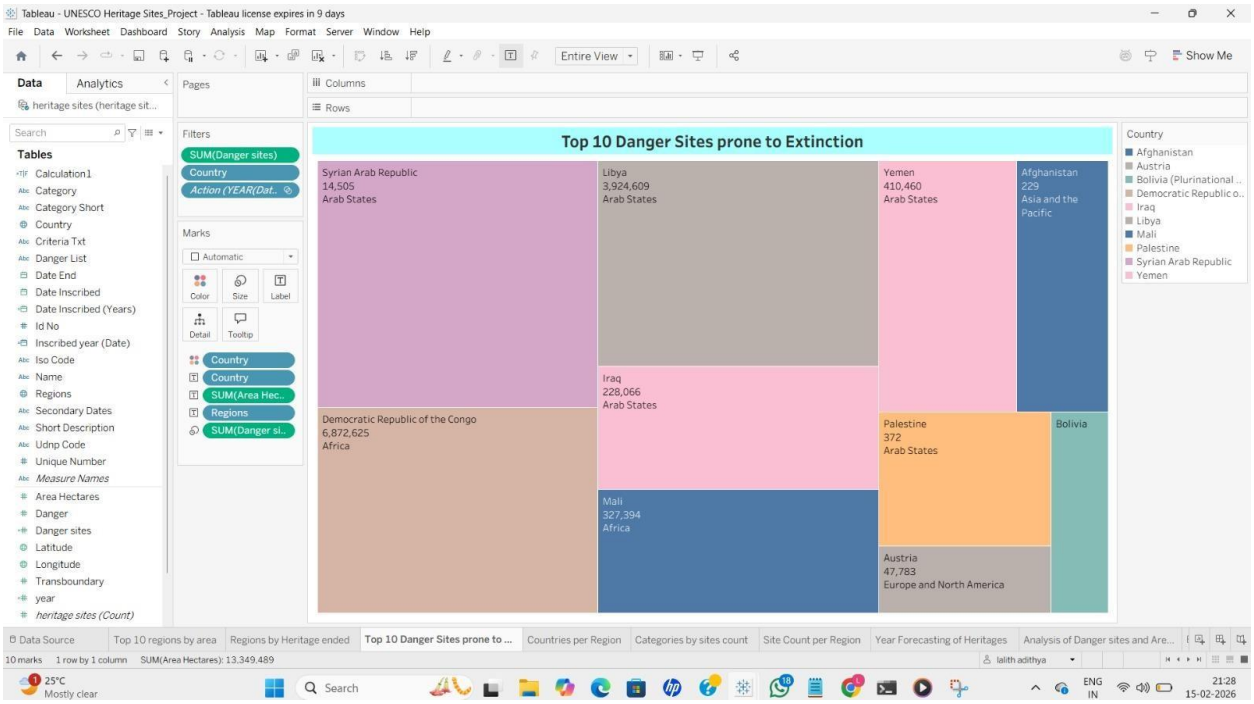
Tableau - UNESCO Heritage Sites_Project - Tableau license expires in 9 days
File Data Worksheet Dashboard Story Analysis Map Format Server Window Help
Entire View
Show Me
Data
Analytics
heritage sites (heritage sit...
Tables
Calculation1
Category
Category Short
Country
Criteria Txt
Danger List
Date End
Date Inscribed
Date Inscribed (Years)
Id No
Inscribed year (Date)
Iso Code
Name
Regions
Secondary Dates
Short Description
Udnp Code
Unique Number
Measure Names
Area Hectares
Danger
Danger sites
Latitude
Longitude
Transboundary
year
heritage sites (Count)
Pages
Filters
SUM(Danger sites)
Country
Action (YEAR(Dat..
Marks
Automatic
Color
Size
Label
Detail
Tooltip
Country
Country
SUM(Area Hec..
Regions
SUM(Danger si..
Columns
Rows
Top 10 Danger Sites prone to Extinction
Syrian Arab Republic
14,505
Arab States
Libya
3,924,609
Arab States
Yemen
410,460
Arab States
Afghanistan
229
Asia and the Pacific
Iraq
228,066
Arab States
Democratic Republic of the Congo
6,872,625
Africa
Palestine
372
Arab States
Bolivia
Mali
327,394
Africa
Austria
47,783
Europe and North America
Country
Afghanistan
Austria
Bolivia (Plurinational ...
Democratic Republic o..
Iraq
Libya
Mali
Palestine
Syrian Arab Republic
Yemen
Data Source
Top 10 regions by area
Regions by Heritage ended
Top 10 Danger Sites prone to ...
Countries per Region
Categories by sites count
Site Count per Region
Year Forecasting of Heritages
Analysis of Danger sites and Are...
10 marks
1 row by 1 column
SUM(Area Hectares): 13,349,489
lalith adithya
25°C
Mostly clear
Search
ENG
IN
21:28
15-02-2026

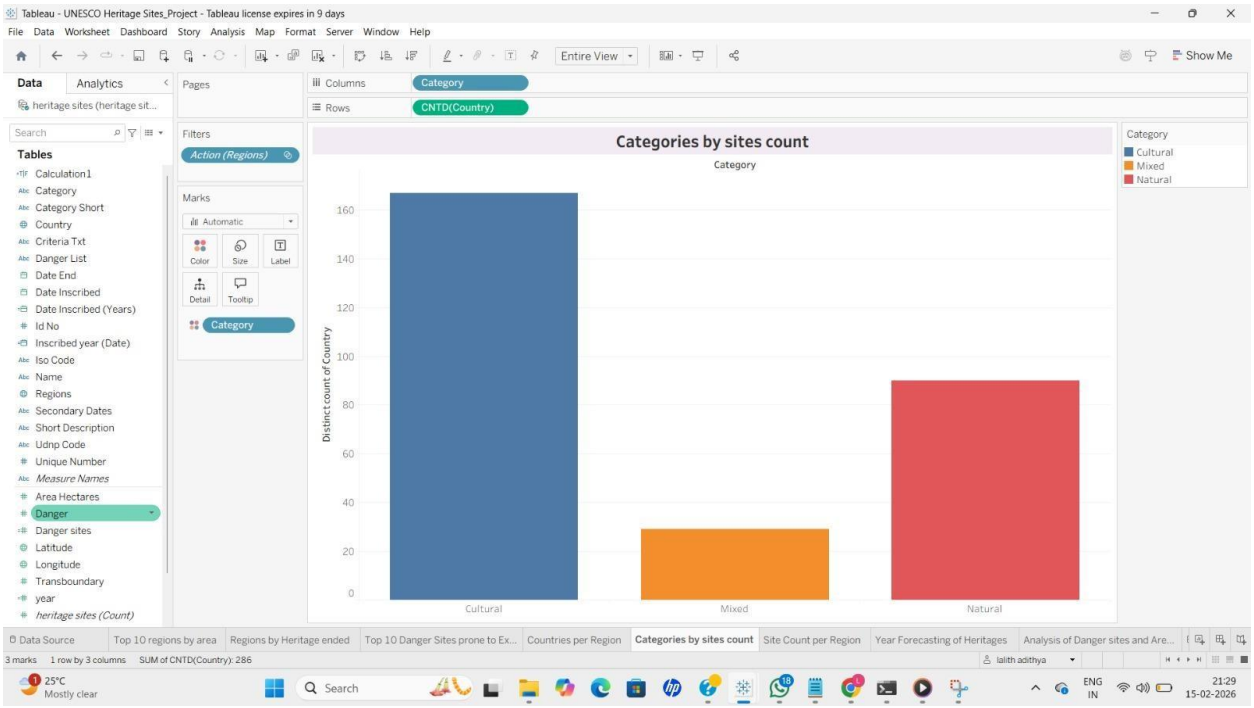
Tableau - UNESCO Heritage Sites_Project - Tableau license expires in 9 days
File Data Worksheet Dashboard Story Analysis Map Format Server Window Help
Entire View
Show Me
Data
Analytics
heritage sites (heritage sit...
Tables
Calculation1
Category
Category Short
Country
Criteria Txt
Danger List
Date End
Date Inscribed
Date Inscribed (Years)
Id No
Inscribed year (Date)
Iso Code
Name
Regions
Secondary Dates
Short Description
Udnp Code
Unique Number
Measure Names
Area Hectares
Danger
Danger sites
Latitude
Longitude
Transboundary
year
heritage sites (Count)
Pages
Filters
Action (Regions)
Marks
Automatic
Color
Size
Label
Detail
Tooltip
Category
Columns
Category
Rows
CNTD(Country)
Categories by sites count
Category
Distinct count of Country
160
140
120
100
80
60
40
20
0
Cultural
Mixed
Natural
Category
Cultural
Mixed
Natural
Data Source
Top 10 regions by area
Regions by Heritage ended
Top 10 Danger Sites prone to Ex...
Countries per Region
Categories by sites count
Site Count per Region
Year Forecasting of Heritages
Analysis of Danger sites and Are...
3 marks
1 row by 3 columns
SUM of CNTD(Country): 286
lalith adithya
25°C
Mostly clear
Search
ENG
IN
21:29
15-02-2026

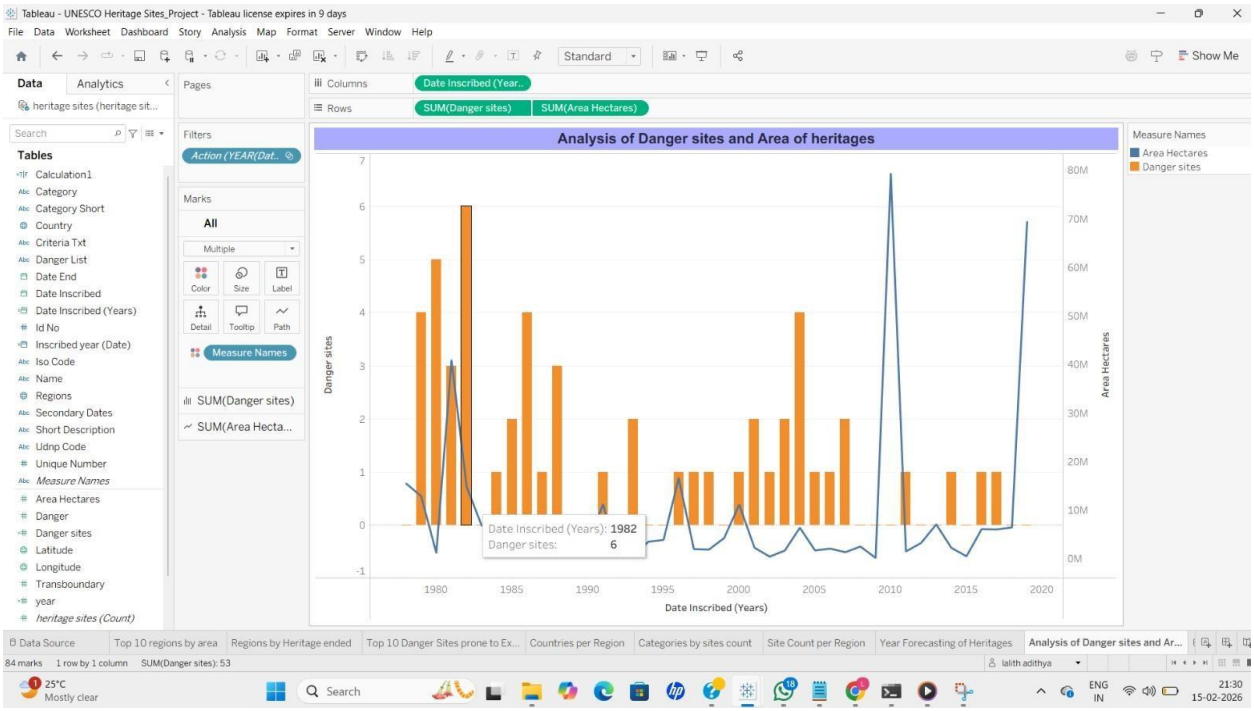
Tableau - UNESCO Heritage Sites_Project - Tableau license expires in 9 days
File Data Worksheet Dashboard Story Analysis Map Format Server Window Help
Standard
Show Me
Data
Analytics
heritage sites (heritage sit...
Tables
Calculation1
Category
Category Short
Country
Criteria Txt
Danger List
Date End
Date Inscribed
Date Inscribed (Years)
Id No
Inscribed year (Date)
Iso Code
Name
Regions
Secondary Dates
Short Description
Udnp Code
Unique Number
Measure Names
Area Hectares
Danger
Danger sites
Latitude
Longitude
Transboundary
year
heritage sites (Count)
Pages
Filters
Action (YEAR(Dat...
Marks
All
Multiple
Color
Size
Label
Detail
Tooltip
Path
Measure Names
SUM(Danger sites)
SUM(Area Hecta...
Columns
Date Inscribed (Year..
Rows
SUM(Danger sites)
SUM(Area Hectares)
Analysis of Danger sites and Area of heritages
Danger sites
Area Hectares
7
6
5
4
3
2
1
0
-1
80M
70M
60M
50M
40M
30M
20M
10M
0M
1980
1985
1990
1995
2000
2005
2010
2015
2020
Date Inscribed (Years)
Date Inscribed (Years): 1982
Danger sites: 6
Measure Names
Area Hectares
Danger sites
Data Source
Top 10 regions by area
Regions by Heritage ended
Top 10 Danger Sites prone to Ex...
Countries per Region
Categories by sites count
Site Count per Region
Year Forecasting of Heritages
Analysis of Danger sites and Ar...
84 marks
1 row by 1 column
SUM(Danger sites): 53
lalith adithya
25°C
Mostly clear
Search
ENG
IN
21:30
15-02-2026

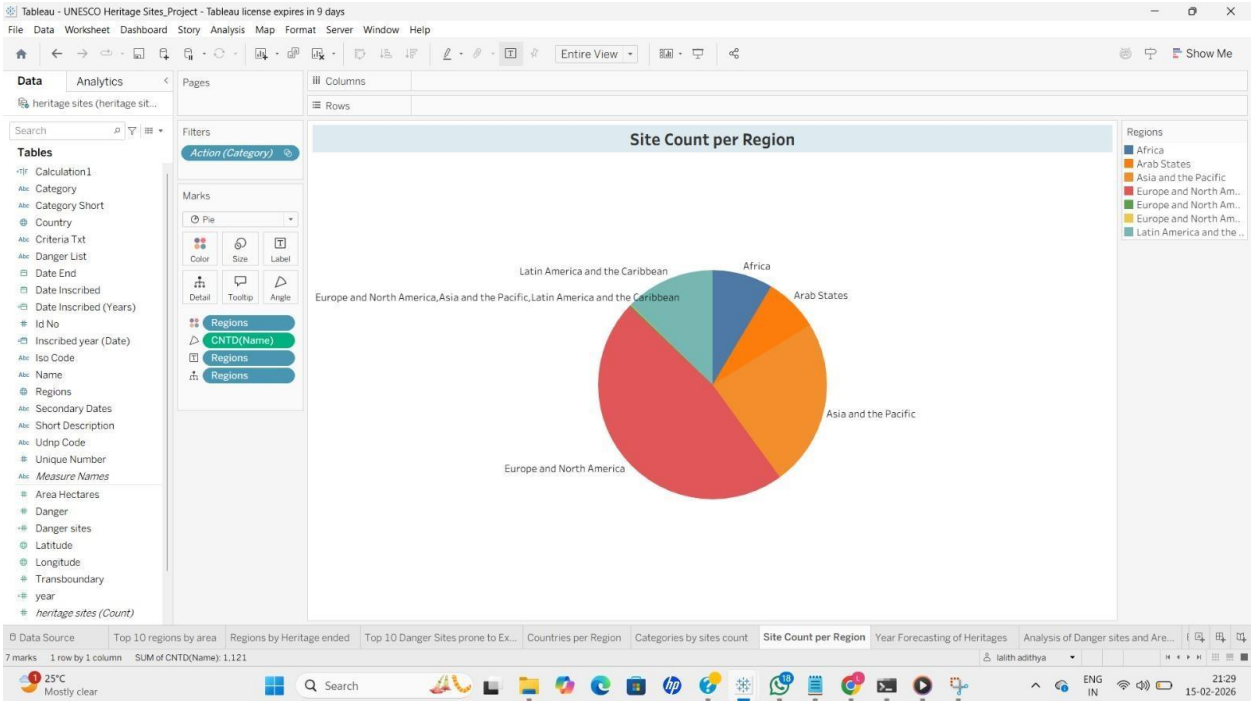
Tableau - UNESCO Heritage Sites_Project - Tableau license expires in 9 days
Site Count per Region
Latin America and the Caribbean
Africa
Arab States
Europe and North America,Asia and the Pacific,Latin America and the Caribbean
Asia and the Pacific
Europe and North America
Regions
Africa
Arab States
Asia and the Pacific
Europe and North Am..
Europe and North Am..
Europe and North Am..
Latin America and the ..
Data Source
Top 10 regions by area
Regions by Heritage ended
Top 10 Danger Sites prone to Ex...
Countries per Region
Categories by sites count
Site Count per Region
Year Forecasting of Heritages
Analysis of Danger sites and Are...
7 marks
1 row by 1 column
SUM of CNTD(Name): 1,121

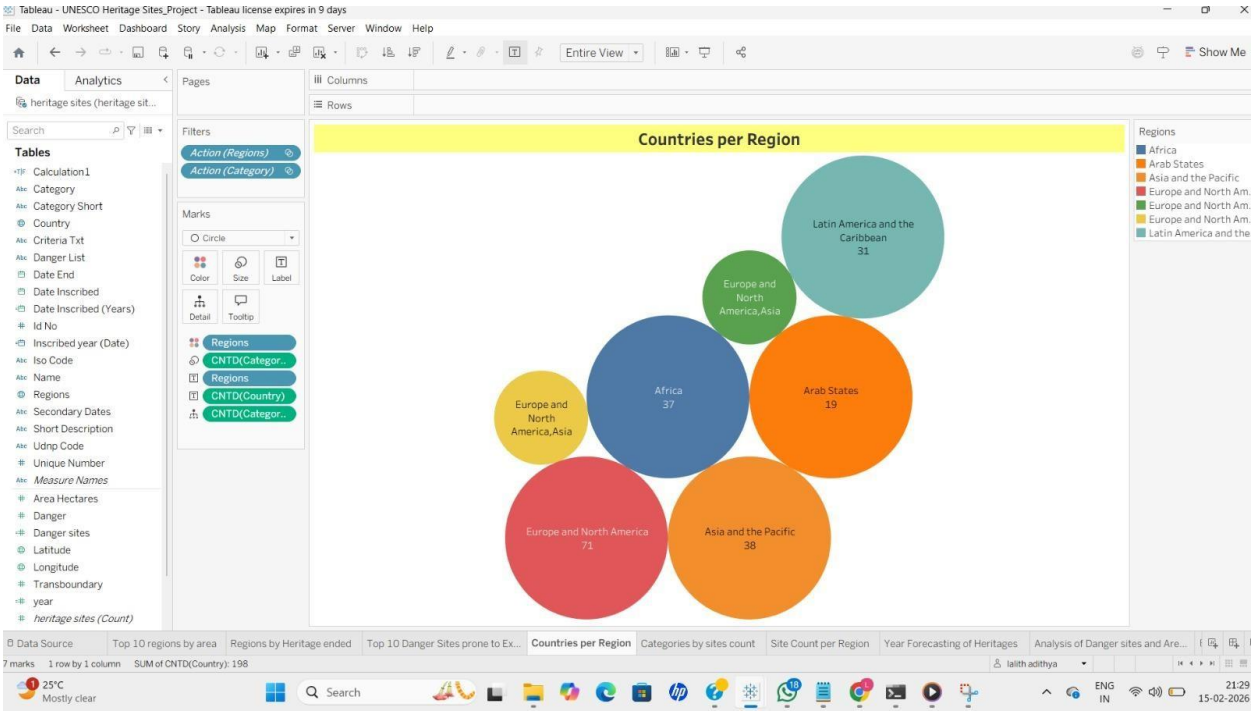
Tableau - UNESCO Heritage Sites_Project - Tableau license expires in 9 days
Countries per Region
Latin America and the Caribbean 31
Europe and North America,Asia
Africa 37
Arab States 19
Europe and North America,Asia
Europe and North America 71
Asia and the Pacific 38
Regions
Africa
Arab States
Asia and the Pacific
Europe and North Am.
Europe and North Am.
Europe and North Am.
Latin America and the
Data Source
Top 10 regions by area
Regions by Heritage ended
Top 10 Danger Sites prone to Ex...
Countries per Region
Categories by sites count
Site Count per Region
Year Forecasting of Heritages
Analysis of Danger sites and Are...
7 marks
1 row by 1 column
SUM of CNTD(Country): 198

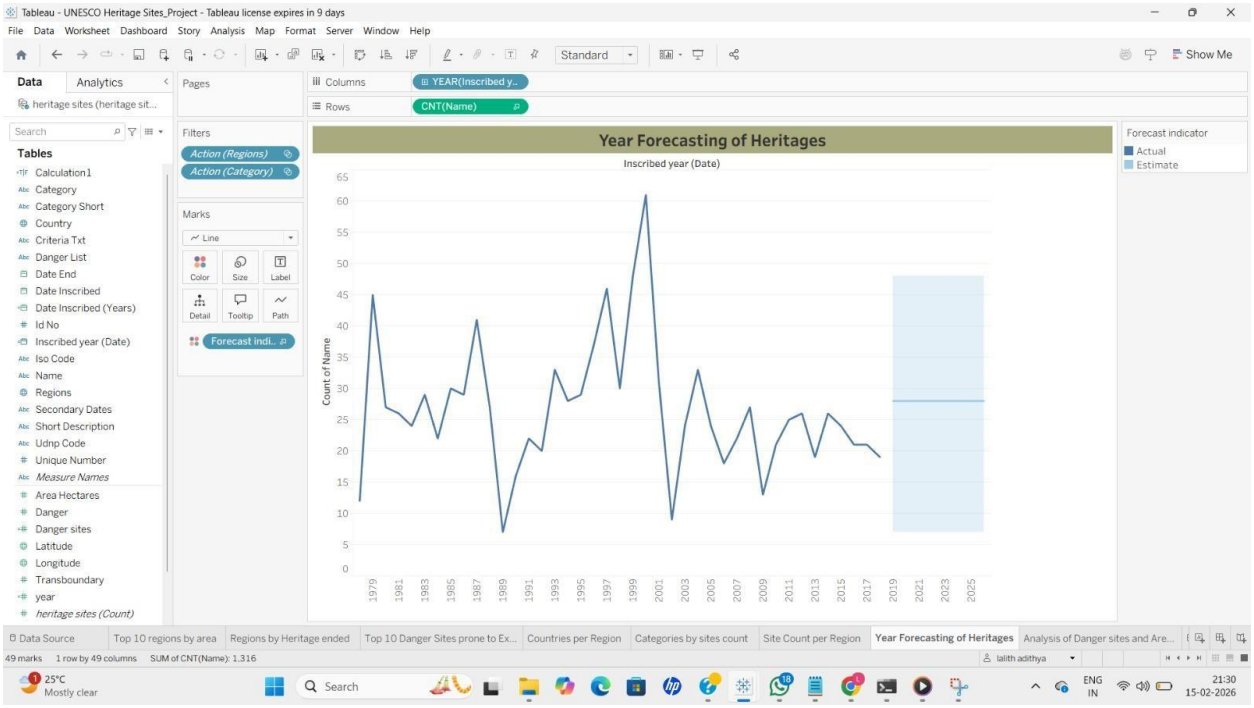
Tableau - UNESCO Heritage Sites_Project - Tableau license expires in 9 days
File Data Worksheet Dashboard Story Analysis Map Format Server Window Help
Standard
Show Me
Data
Analytics
heritage sites (heritage sit...
Tables
Calculation1
Category
Category Short
Country
Criteria Txt
Danger List
Date End
Date Inscribed
Date Inscribed (Years)
Id No
Inscribed year (Date)
Iso Code
Name
Regions
Secondary Dates
Short Description
Udnp Code
Unique Number
Measure Names
Area Hectares
Danger
Danger sites
Latitude
Longitude
Transboundary
year
heritage sites (Count)
Pages
Filters
Action (Regions)
Action (Category)
Marks
Line
Color
Size
Label
Detail
Tooltip
Path
Forecast indi..
Columns
YEAR(Inscribed y..
Rows
CNT(Name)
Year Forecasting of Heritages
Inscribed year (Date)
Count of Name
Forecast indicator
Actual
Estimate
Data Source
Top 10 regions by area
Regions by Heritage ended
Top 10 Danger Sites prone to Ex...
Countries per Region
Categories by sites count
Site Count per Region
Year Forecasting of Heritages
Analysis of Danger sites and Are...
49 marks
1 row by 49 columns
SUM of CNT(Name): 1,316
lalith adithya
25°C
Mostly clear
Search
ENG
IN
21:30
15-02-2026